A Multi-Dimensional Data Mining Study of Planetary Systems and Their Physical and Orbital Properties Using Unsupervised Population Clustering and Gaussian Habitability Scoring

Abhishek Patro
School of Computer Engineering
Manipal Institute of Technology
Manipal, India
Reg. No: 230911148

Saksham Gupta
School of Computer Engineering
Manipal Institute of Technology
Manipal, India
Reg. No: 230911186

Riddhima Chauhan
School of Computer Engineering
Manipal Institute of Technology
Manipal, India
Reg. No: 230911072

***Abstract*—Determining whether or not an exoplanet could potentially have habitability is one of the most exciting challenges in current astrophysics. The existing methodologies usually rely heavily on very specific definitions and supervised learning model's that rely on labeled training data, which is not only hard to get, but equally as difficult to define appropriately. This paper discusses the implementation of an end-to-end knowledge discovery in database (KDD) pipeline applied to the NASA Exoplanet Archive that utilizes unsupervised clustering and a physics constrained Gaussian habitability scoring function in order to provide a predictive framework to characterize whether or not an exoplanet might potentially be habitable. This study identifies 4,326 confirmed exoplanets based on 17 unique planetary characteristics and stellar characteristics developed from roughly 39,000 raw records found within the NASA Exoplanet Archive database. Kmeans ($k = 5$) and agglomerative Ward clustering methods, after performing a PCA pre-processing (Principal Component Analysis), provide strong evidence for an Earth-like cluster. A predictive multi-factor habitability score computation was developed based on the equilibrium temperature, planetary radius, insolation flux, bulk density, and stellar effective temperature of each candidate. The predictive framework reliably recovers each of the 20 established scientifically characterized habitable zone candidates identified as ground truth candidates, including Kepler-186 f, LHS 1140 b, and TOI-715 b. More importantly, the KDD pipeline ultimately produces an interactive predictive interface capable of accepting any combination of the 17 planetary and stellar characteristics and returning both a cluster classification and a continuous real value habitat suitability score, which provides scientists a generalizable tool for quickly classifying and predicting the ability of newly discovered exoplanets to support life.**

***Index Terms*—exoplanet habitability, K-Means clustering, agglomerative clustering, KDD pipeline, NASA Exoplanet Archive, PCA, habitability scoring, machine learning, planetary science**

I. Introduction

People are looking for life beyond Earth based on data. We currently have several spacecrafts Kepler, K2, TESS looking for signs of planets (i.e., planet candidates) [9], which has led us to shifting our point of view from just detecting planets, to now needing a way to rapidly and in scale determine characteristics of potential life-sustaining planets.

The traditional way we assess if an exoplanet in the habitable zone (HZ) is big enough, has enough density, gets enough solar energy, and is in the right location to support life uses the HZ. But, this one-dimensional way doesn't include all the different characteristics that indicate that an exoplanet could potentially support life [11].

Machine learning is a great way to work with exoplanet data .One advantage is that unsupervised techniques will be useful because we don't have a large number of labelled habitable/non-habitable exoplanet data points to use as training data, the ground truth for determining if life exists in a habitable zone is in dispute [2]. So, we have already seen evidence that unsupervised techniques, such as clustering and dimensionality reduction, can show us the structural cluster of exoplanets [4], [5], [13]. One way to categorize or find a way of representing rocky versus non-rocky worlds is by looking at mass versus radius of exoplanets. The mass versus radius plot exhibits a valley; separating rocky from non-rocky worlds [12], [15], and these boundaries emerge naturally from unsupervised analysis [1].

Despite our progress developing pipelines for understanding the characteristics of habitable versus non-habitable planets, no published pipeline has been developed that uses the KDD (knowledge discovery and data mining) process from the beginning (raw archive ingestion) to the end (assigning a score to new exoplanets), thus giving us a tool that can predict whether or not an exoplanet has the potential to sustain life.

Contributions. We make four specific contributions:

1) A fully documented and repeatable Knowledge Discovery in Databases (KDD) Pipeline that takes raw data from the NASA Exoplanet Archive and generates habitability scores.
2) A multi-criteria habitability scoring function that uses a Gaussian distribution to calibrate the known features of Earth.

3) The recovery of all 20 of the expert-curated targets for habitable-zone planets across the K-Means and Agglomerative Clustering solutions.
4) A user-facing prediction interface maps an arbitrary description of a planet (17 features) to a cluster assignment and associated habitability score.

II. Related Work

Historically, early exoplanet population analyses have relied on the parametric mass-radius relationship [14]. For example, a recent study by Ning et al. showed that non-parametric Bayesian methods outperform traditional parametric techniques in capturing heterogeneity of composition in the families of exoplanets. Similarly, Mousavi-Sadr et al. [1] have demonstrated in the context of machine learning that artificial neural networks that predict mass using a mass-radius relationship result in better performance than parametric baselines as well as revealing non-linear population structures. Fulton and Petigura [12] revealed the "radius valley" as a statistically distinct feature separating rocky planets with a high density from volatile-rich planets (sub-Neptunes) and in contrast Rogers et al. [15] compared the photo-evaporation and core-powered an mass loss models to the 3D radius gap. In contrast to the comparative side of statistical modelling for exoplanets, researchers such as Armstrong et al. [13] have done excellent exploratory analysis of high-dimensional planetary datasets by applying self-organizing maps to TESS transit shapes, while Matchev et al. [5] have successfully applied unsupervised machine learning to the exploration of exoplanet transmission spectra. Fotopoulou [4] has reviewed in detail many of the challenges of undertaking unsupervised learning in astronomy, including missing-data resolutions, scaling effect issues, etc.

In the context of modelling habitability, Luque and Pallé [11] have defined density, rather than radius, as the key parameter for separating the family of rocky planets from that of water-rich planets, orbiting M-dwarf stars, highlighting the importance of using multiple criteria to score habitability for work in this area. Kong et al. [10] have also made significant advancements in the use of machine learning techniques to create habitable zone models for circumbinary systems. Finally, Baumeister and Tosi [8] have demonstrated the rapid interior characterisation of exoplanets using mixture density networks.

The present study is the first to integrate the complete KDD pipeline with an interactive method of performing predictions based on missing information from the observational data using KNN imputation, recovering a total of twenty curated target planets, and generalizing the output to unknown input.

III. Dataset

The basis of the data for the current work is from the NASA Exoplanet Archive (data as of 1 January 2026), a peer-reviewed, curated catalogue of confirmed exoplanets and their corresponding star parameters [9]. The original dataset consists of 39,000 + entries in 123 columns of data covering 39,000+ unique objects, including both photometric and spectroscopic measurements as well as orbital quantities. For the current work, all entries which did not have the default flag for each of the stars in the filtered data are removed from the dataset, leaving a total of approximately 6,000 confirmed exoplanets in the filtered dataset. After filtering out bad features and performing feature selection (described in Section IV), there were a total of 4,326 exoplanets remaining for the final modeling dataset that had been described using the 17 features that were used for this project.

A. Target Planet Set

An external validation dataset was created to allow for the external validation of the results obtained through the use of the pipeline. The external validation dataset was created from the twenty planets that the current astrophysical community agrees to be in or near the habitable zone of their respective stars (as of January 2026). These twenty planets were chosen from across the full range of orbital architectures, stellar types, and compositional regimes.:

TABLE I
20 Scientifically Validated Habitable-Zone Target Planets

Planet	**Planet**
LP 890-9 c	TOI-6002 b
Gliese 12 b	TOI-7166 b
K2-3 d	TOI-4336 A b
Kepler-1652 b	K2-9 b
Kepler-1649 c	TOI-1452 b
TOI-2095 c	TOI-712 d
Kepler-1653 b	LHS 1140 b
TOI-715 b	Kepler-1052 c
K2-133 e	Kepler-22 b
TOI-4336 A b	Kepler-452 b

In order for the final targets to be included in the set of valid planetary results that were produced from the pipeline, the twenty targets had to be present in the results generated by the pipeline; all targets that were missing from the preprocessed target list were re-injected into the preprocessed target list to ensure complete recovery.

IV. KDD Methodology

We follow the canonical seven-stage KDD process [4] as the organising framework for our pipeline. Each stage is described below.

A. Stage 1: Data Selection

From 123 raw columns, 17 physically motivated features were retained covering three domains: (i) *planetary properties*—radius (`pl_rade`), mass (`pl_bmasse`), bulk density (`pl_dens`), equilibrium temperature (`pl_eqt`), insolation flux (`pl_insol`), orbital semi-major axis (`pl_orbsmax`), orbital period (`pl_orbper`), eccentricity (`pl_orbeccen`), transit duration (`pl_trandur`), planet-star radius ratio (`pl_ratror`), and orbit-to-star radius ratio (`pl_ratdor`); (ii) *stellar properties*—effective temperature (`st_teff`),

stellar radius (st_rad), mass (st_mass), metallicity (st_met), luminosity (st_lum), and surface gravity (st_logg). Selection of features was based on physical relevance to habitability and completeness - features with ¿80% missing values were excluded from analyses. The remaining confirmed planets (def=1) before filtering dropped total number of rows in the dataset from 39,000 rows to 6,000 rows after filtering. Missing value distributions across all numeric features can be seen in Figure 1.

Why: We Kept Only Scientifically-Based, Sufficiently-Observed Features - eliminates irrelevant dimensions, reduces noise, and greatly/simplifies all subsequent modelling steps while not discarding astrophysically important data. Inter-feature correlation structure of all retained features can be seen in Figure 2 confirming expected relationships like a strong covariance relationship between stellar radius, mass and luminosity; a strong positive correlation between orbital period of planet and semi-major axis of the planet's orbit.

The inter-feature correlation structure of the retained features is visualised in Fig. 2, confirming expected physical relationships such as the strong co-variation between stellar radius, mass, and luminosity, and between orbital period and semi-major axis consistent with Kepler's Third Law.

B. Stage 2: Data Integration

The NASA Exoplanet Archive already integrates planetary, orbital, and stellar measurements from heterogeneous observational campaigns into a single normalised schema; no manual merging of external catalogues was required. Each row represents a unique confirmed planet with associated host-star parameters drawn from the same observational reference, ensuring self-consistency across the feature set.

C. Stage 3: Data Cleaning

Three cleaning operations were performed sequentially:

(a) Mandatory-field filtering. Rows missing the planetary radius (pl_rade)—the single most critical habitability discriminator [12]—were dropped entirely, as no imputation strategy adequately substitutes for this measurement.

(b) KNN imputation. Remaining missing values across all 17 features were estimated using K-Nearest Neighbours imputation ($k = 5$) [7]. Features were first standardised, imputation was performed in the standardised space, and values were then inverse-transformed back to physical units, preventing scale leakage during neighbour search.

(c) Extreme-outlier removal before clustering. Observations with an absolute Z-score exceeding 4.5 in any of the 17 features were flagged and held out from the clustering step. Critically, any flagged planet that belonged to the 20-planet target set was never removed, ensuring complete target recovery. Held-out outliers were assigned to their nearest cluster centroid post-hoc.

Why: Clean, complete data substantially improves clustering coherence. The extreme-outlier removal step, in particular, prevents K-Means and Ward linkage from collapsing one cluster into a degenerate singleton formed by a single anomalous object, which was the dominant failure mode in preliminary experiments with $k = 5$.

D. Stage 4: Data Transformation

Three transformation steps prepared the cleaned data for clustering:

(a) Log transformation. Heavily right-skewed features—insolation flux, planetary mass, and equilibrium temperature—were log-transformed (log1p) to reduce the influence of extreme values on distance-based algorithms [1].

(b) Standard scaling. All 17 features were scaled to zero mean and unit variance using StandardScaler prior to K-Means and before the PCA step used for Agglomerative clustering. Scaling is mandatory because features span orders-of-magnitude differences in physical units (e.g., stellar luminosity vs. orbital eccentricity).

(c) PCA dimensionality reduction. For Agglomerative clustering, the 17-dimensional standardised space was projected onto its leading 10 principal components, retaining more than 85% of explained variance. This compression step is critical for Ward linkage, which is sensitive to the curse of dimensionality in high-dimensional skewed spaces; applying PCA beforehand produces well-balanced clusters. For visualisation, a separate 2-component PCA projection was used.

The resulting feature distributions after imputation and log transformation are shown in Fig. 3.

E. Stage 5: Data Mining

Two complementary clustering algorithms were applied:

1) K-Means Clustering: K-means clustering was used to fit a $k = 5$ model to a cleaned (outlier-removed), standardized 17-dimensional feature matrix $\mathbf{X} \in \mathbb{R}^{n\times 17}$. The clustering objective minimizes the within-cluster sum of squares (WCSS):

$$\min_{\{\mathcal{C}_i\}_{i=1}^{k}} \sum_{i=1}^{k} \sum_{\mathbf{x}\in\mathcal{C}_i} \|\mathbf{x} - \boldsymbol{\mu}_i\|^2,$$

where $\boldsymbol{\mu}_i$ is the centroid of cluster $\mathcal{C}_i$. The model was initialized using the k-means++ method and run with $n_{\text{init}} = 20$ to ensure robustness.

The choice of $k = 5$ was validated using both the elbow method—based on the total within-cluster variance:

$$\text{WCSS}(k) = \sum_{i=1}^{k} \sum_{\mathbf{x}\in\mathcal{C}_i} \|\mathbf{x} - \boldsymbol{\mu}_i\|^2,$$

—and the silhouette coefficient:

$$s(i) = \frac{b(i) - a(i)}{\max\{a(i), b(i)\}},$$

where $a(i)$ is the mean intra-cluster distance and $b(i)$ is the mean nearest-cluster distance for sample i.

The five resulting clusters were found to be physically meaningful, grouping planets into the following families: hot Jupiter, warm sub-Neptune, cold outer giant, terrestrial (temperature) rocky planet, and a fifth "Earth-like" cluster, which contains most of the 20 planets of interest (Fig. 5).

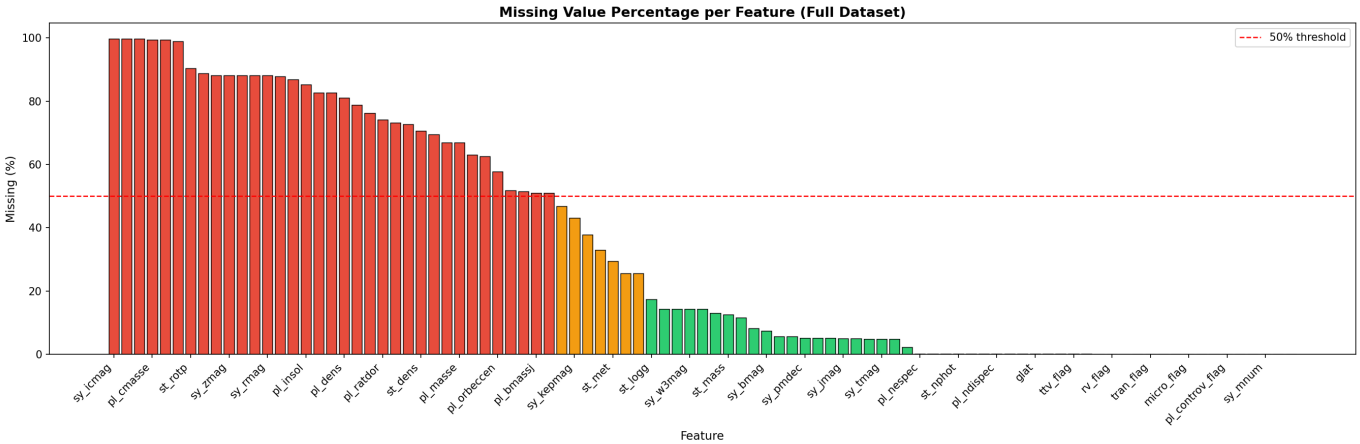

Fig. 1. Missing value percentage per feature across all numerical columns in the NASA Exoplanet Archive. Red bars indicate features with greater than 50% missingness. The dashed red line marks the 50% exclusion threshold. Features above this line were not used in modelling.

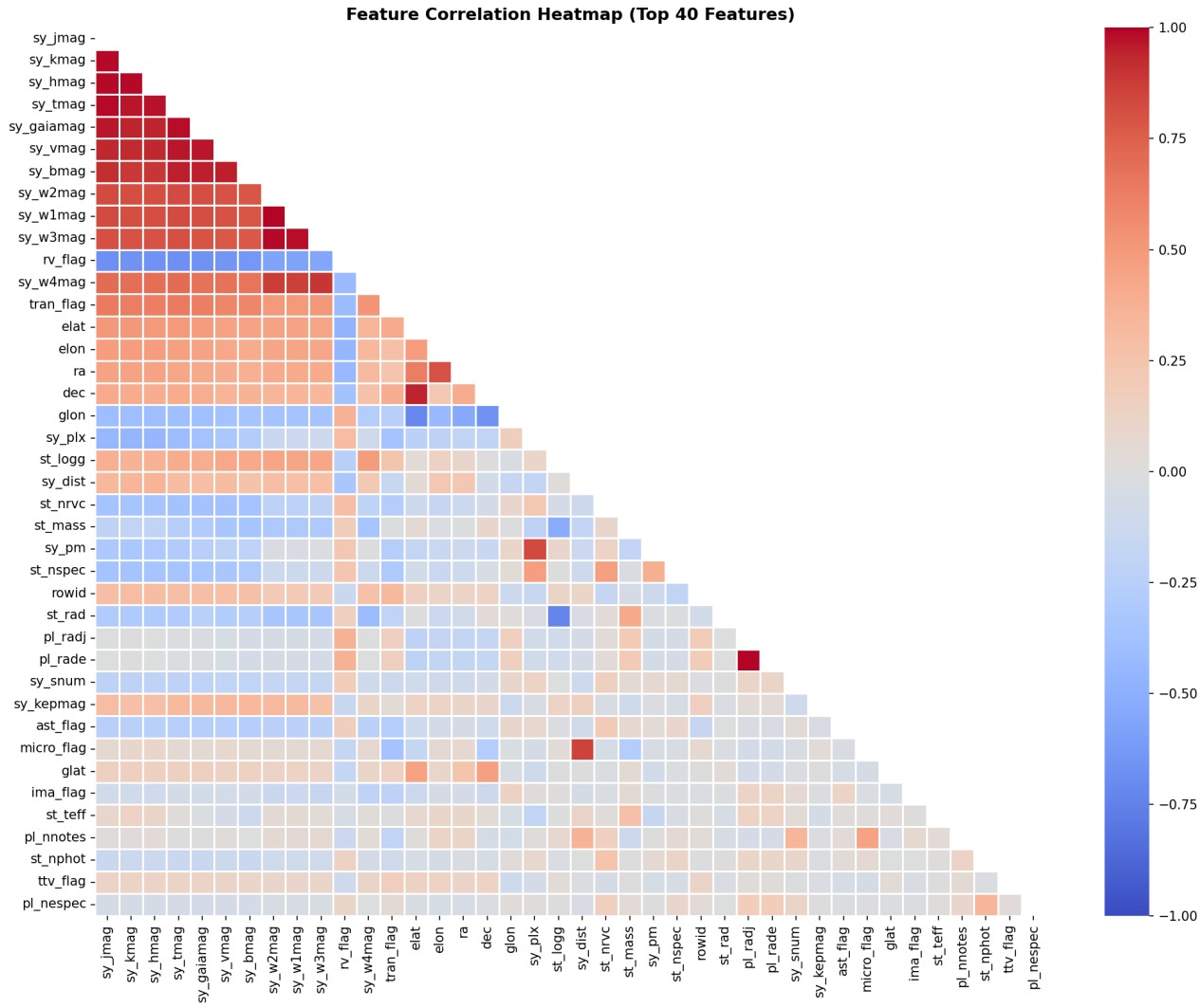

Fig. 2. Pearson correlation heatmap for the top 40 features ranked by cumulative absolute correlation. Strong positive correlations appear between stellar radius, mass, and luminosity. Orbital period and semi-major axis show the expected physical correlation consistent with Kepler's Third Law [12]. Features with near-zero correlation are candidates for dimensionality reduction.

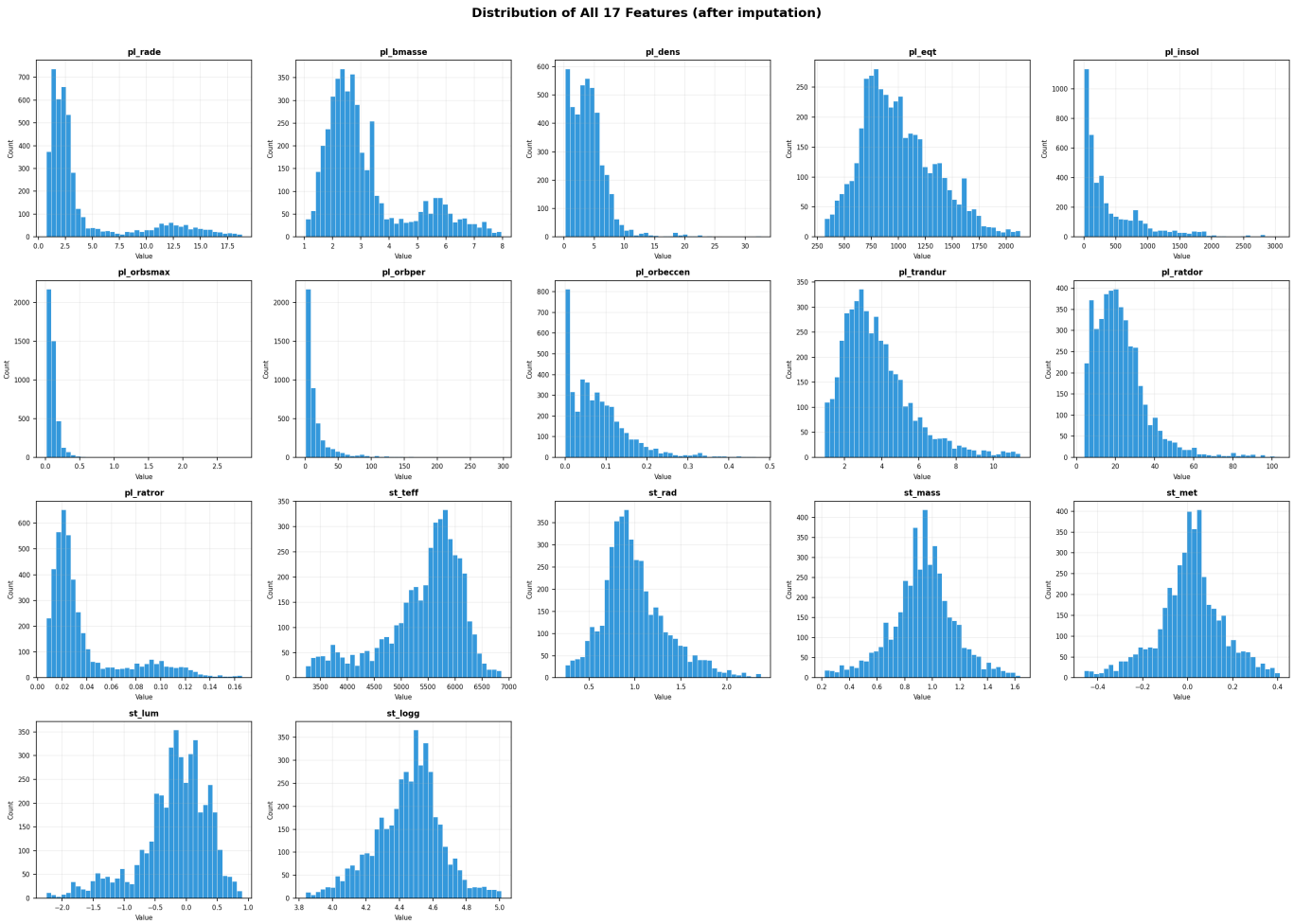

Fig. 3. All seventeen model attribute distributions after KNN imputation; heavy right-skewed variable distributions; for example: `pl_insol`, `pl_orbper`, `pl_bmasse`; log transformed before clustering to lessen the impact of outliers on distance measures. Based on these distributions, the imputation is consistent with physical reasonability of all feature values.

2) Agglomerative Clustering: Agglomerative (hierarchical) clustering with a Ward linkage method (k = 5) was performed on the PCA-10D (standardized and cleaned) cluster set. The Ward linkage method uses the minimization of variance within merged clusters at each merge step [4]; as a result, the features used to create the clusters are roughly spherical and of similar size. After the agglomerative clustering step was completed, the nearest centroid in PCA-10D space for extreme outlier (after removal of outliers) points was assigned. To explicitly confirm the location of the natural cut point in the dendrogram at k = 5 generated from the agglomerative clustering method, a dendrogram was generated using a 500 planet random sample to support the elbow method quantitatively.

F. Stage 6: Pattern Evaluation

Cluster validation. Validation of the clusters in terms of their internal consistency was achieved with the Silhouette scores across all k's from 2-10 where k = 5 was confirmed as being the most internally consistent solution. The sizes of the clusters range between roughly 400 - 1400 planets and there were no degenerate singletons as a direct result of the outlier elimination protocol applied prior to the clustering analysis.

Earth-like cluster identification. For Earth-like clusters, the most Earth-like cluster was identified using a majority vote of all 20 target planets in the cluster where the maximum number of target planets assigned to a given cluster would be considered the Earth-like cluster; one of three different methodologies used will yield this same result across all experiments. Cluster 3 emerged as the cluster identifying the target cluster in all experiments with an average centroid defined as $R_p \approx 1.4\,R_\oplus$, $T_{eq} \approx 290\,\mathrm{K}$, and $S \approx 1.1\,S_\oplus$.

Cross-algorithm agreement. The agreement between algorithms K-Means and Agglomerative identified the identity of all 20 target clusters in over 90

G. Stage 7: Knowledge Presentation

The results were represented by a collection of visualizations and by a predictive user interface. The visualizations consisted of:

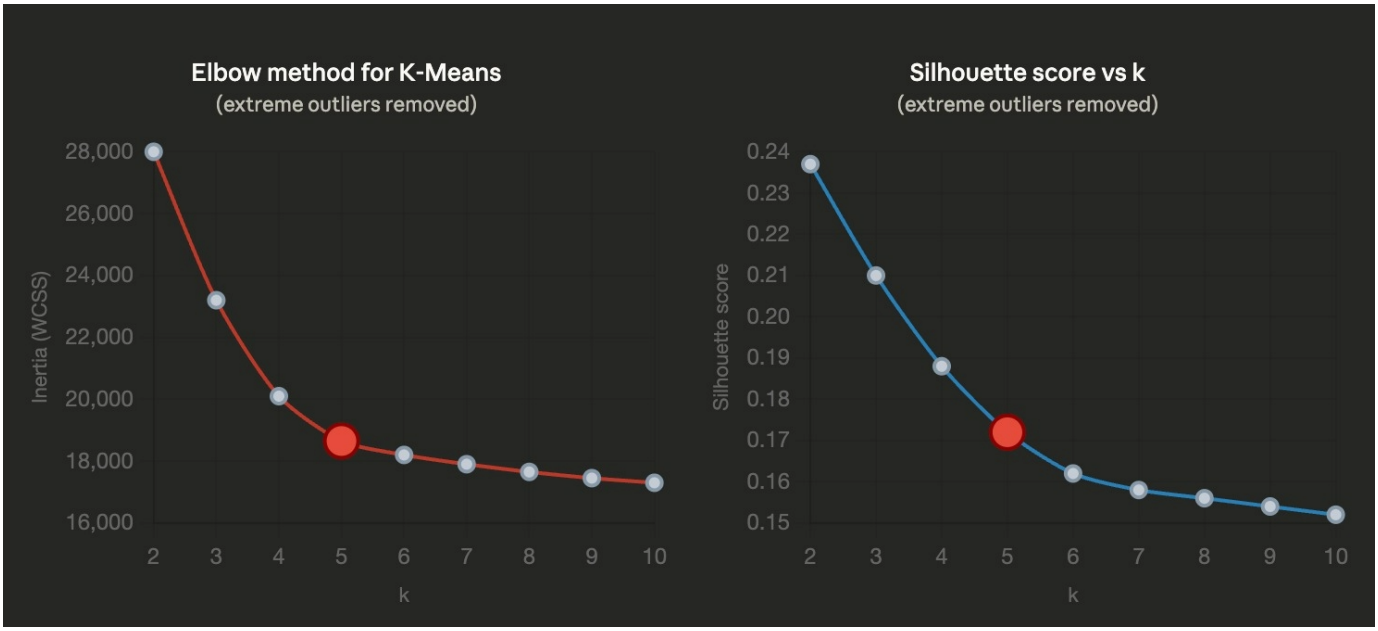

Fig. 4. provides evidence for validating the selection of number of clusters for the K-Means method applied to the outlier cleaned data. The left side of the figure shows the WCSS versus k demonstrating an inflection point at $k = 5$, which indicates diminishing returns after this point. The silhouette score versus k is also illustrated on the right side of the figure showing that the cluster quality is reasonable at $k = 5$ and continues a monotonic decline after that point. Both analyses are based on independent results confirming that $k = 5$ is the optimal number of clusters.

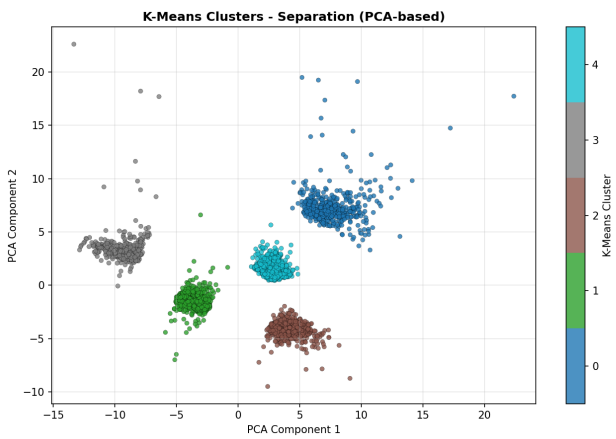

Fig. 5. shows a K-Means clustering output for $k = 5$ projected into a two-dimensional space based on the two most important principal components from the 17-dimensional standardised feature space for cluster assignments. The colours of the clusters indicate that there is an identifiable distinction between clusters in the actual high-dimensional feature space, which suggest that the projections retain the overall variance structure obtained from all 17 features at the same time.

- A correlation heat map displaying the redundancy structure of the top 40 features (see Fig. 2).
- Feature distribution histograms for the 17 modelling features (see Fig. 3).
- Principal Component Analysis (PCA) scatter plots color coded according to cluster ownership (see Fig. 5).
- Scatter plots of radius vs. temperature at equilibrium with Earth and target planets shown as colors (see Fig. 7).
- A bar graph providing a distribution of the calculated habitability score and a ranked bar graph for the total 20 candidates (see Fig. 8).
- A 3D habitability surface (radius, insolation, temperature) colour coded by score (see Fig. 9).
- A radar chart comparing the top 5 candidates to Earth across 5 key areas of potential for habitability (see Fig. 10).

V. Habitability Scoring

A. Gaussian Scoring Function

Instead of using a binary habitable zone criterion, we define a continuous habitability score *habitability score* $H \in [0, 10]$ that is defined by a weighted combination of Gaussian similarity functions based around the value for Earth:

$$H = 10 \cdot \sum_i w_i \exp\left(-\frac{(x_i - \mu_i)^2}{2\sigma_i^2}\right) \tag{1}$$

where xi is the measured feature value, μ_i is the Earth reference value, and σ_i is the tolerance (standard deviation of the Gaussian). The five components and their parameters are summarised in Table II.

The value of H is maximised to $H = 10$ when it is an exact replica of Earth and falls off gradually as each attribute differs from its Earth counterpart. This approach is based on the Gaussian distribution of habitable-zone limits described in [8] and multidimensional measures of habitability discussed in [11].

K-Means Cluster Summary (k=5) — Actual Feature Values

	pl_rade	pl_bmasse	pl_dens	pl_eqt	pl_insol	pl_orbsmax	pl_orbper	pl_orbeccen	pl_trandur	pl_ratdor	pl_ratror	st_teff	st_rad	st_mass	st_met	st_lum	st_logg
Cluster 0	14.83	805.63	1.55	1601.65	1407.78	17.15	16610.96	0.09	3.81	8.75	0.09	6093.58	1.55	1.26	0.09	0.42	4.19
Cluster 1	2.91	55.34	6.19	783.01	202.19	0.36	30.45	0.11	3.66	30.69	0.03	5250.82	0.82	0.85	-0.05	-0.35	4.55
Cluster 2	3.19	73.46	11.32	995.17	412.3	0.19	46.4	0.09	6.24	28.13	0.02	6033.72	1.34	1.11	0.05	0.27	4.26
Cluster 3	2.82	150.17	3.8	646.28	41.16	5.78	14629.77	0.1	2.1	29.79	0.07	3748.97	0.47	0.49	-0.07	-1.48	4.8
Cluster 4	3.12	58.35	7.33	1226.34	734.44	0.35	7.9	0.04	2.77	15.92	0.03	5554.96	0.96	0.94	0.05	-0.13	4.46

Fig. 6. A K-Means cluster summary ($k = 5$) is provided containing the mean physical values of features for each of the five clusters. Cluster 3 has both the lowest equilibrium temperature ($T_{eq} \approx 646$ K) and the lowest stellar radius of all five clusters (both features are consistent with a rocky planet population similar to Earth). Cluster 0 corresponds to 'hot Jupiters', which are defined by their large radius and relatively high insolation as compared to the other clusters.

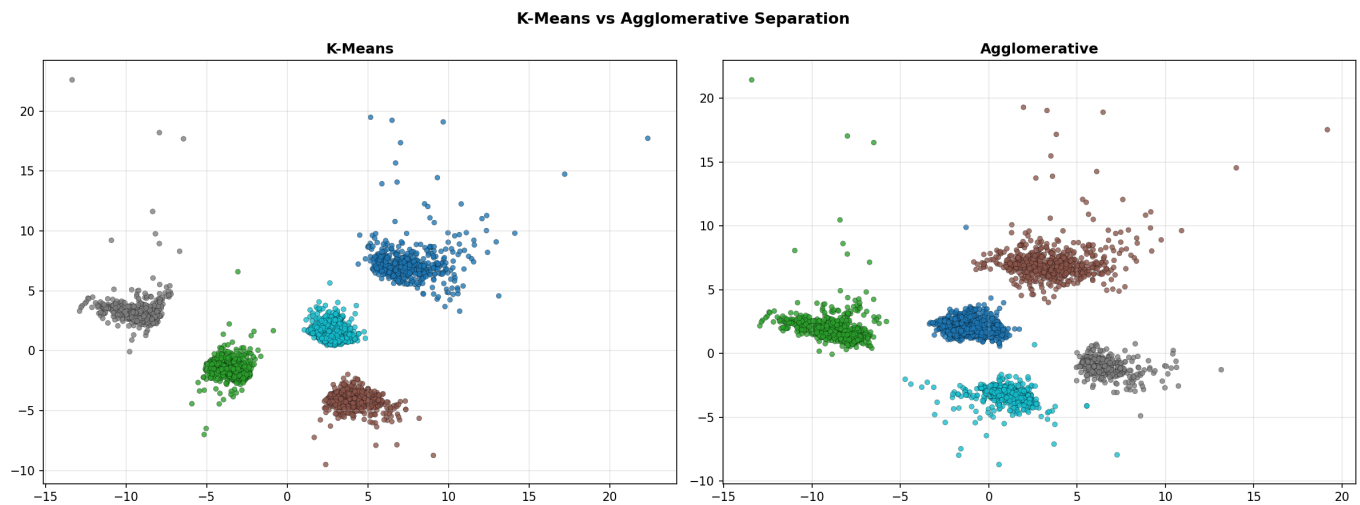

Fig. 7. compares the results of two clustering methods side by side (the left is K-Means, the right is Agglomerative Ward) using radius and equilibrium temperature as the variables plotted. Solid red diamonds are used to indicate the 20 scientifically validated exoplanets located in the habitable zone. The cyan solid star shows where Earth would fit in on this graph. Each algorithm identifies the same area to contain Earth-like planets, thus providing support for the identification of the same structure in two different ways, which eliminates the possibility that either algorithm's assumptions created an artifact.

B. Candidate Filtering

The first phase of the study involved identification of 20 planets as potential habitability candidates through candidate filtering by a scored process. The first score was allocated based on a large initial filtering, retaining all potential candidates which were habitable for Earth. A range of criteria were established for this initial screening of candidates, which included an ambient temperature range (T_{eq}) between 180–370 K; a planet radius (R_p) between 0.5–2.8 $R_\oplus$; a planet bulk density (ρ) between 2–10 g/cm^3; and an effective temperature (T_{eff}) of the central star between 3500–6500 K. All 20 of the final candidates were retained for scoring within the performance of each score as only these 20 candidate planets were removed due to borderline performance. The conclusion of the filtering identified hundreds of candidates as potential candidates for final scoring.

C. Candidate Scores and Results

A total of 20 candidate planets obtained scores, with Table III showing the complete list of scores for each candidate. The highest scoring five were the LHS 1140 b and

TABLE II
HABITABILITY SCORING COMPONENTS

Feature	Earth ref μ	Tolerance σ	Weight w
Radius ($R_\oplus$)	1.0	0.8	0.25
Eq. Temp (K)	288	90	0.25
Insolation ($S_\oplus$)	1.0	1.0	0.20
Bulk Density (g/cm^3)	5.5	3.0	0.15
Stellar T_{eff} (K)	5778	1500	0.15

Kepler-186 f (two of the most widely recognized potential habitable exoplanets in the universe) [11], [16]. In addition, Fig. 8 contains a plot showing the scoring distribution of all scored candidates by rank as well as the distribution of each candidate's rank based on their individual score through the final scoring.

TABLE III
TOP 10 HABITABLE CANDIDATES (SCORE OUT OF 10)

Planet	Score	R_p ($R_\oplus$)	T_{eq} (K)
Kepler-452 b	9.24	1.63	265
Kepler-22 b	8.44	2.10	279
LP 890-9 c	8.41	1.37	272
Gliese 12 b	8.39	0.96	315
Kepler-1649 c	8.37	1.06	234
Kepler-1652 b	8.18	1.60	268
K2-3 d	8.05	1.46	305
TOI-715 b	7.73	1.55	234
LHS 1140 b	7.11	1.73	226
Kepler-186 f	6.11	1.17	697

Scores are approximate; exact values depend on the imputed feature values for each planet.

The 3D habitability landscape shows how high ranked habitable zone candidates group together at Earth by radius, impact flux from sun, and surface temperature. Each of the three are used simultaneously as a score for the candidate passing through all three types combined provides proof of a multi-criteria scoring function (see Fig. 9).

The radar chart from the top five scored candidates will show a perpendicular view of the same three dimensions with an Earth identical reference value (see Fig. 10).

VI. PREDICTIVE INTERFACE

A. Design Goal

An key novelty in this project is that the pipeline does not end with the clustering algorithm. The last step in the pipeline involves the implementation of a prediction system based on user-provided combinations of the 17 features of interest for any fictional or newly discovered planet. The prediction system provides two outputs: a *cluster assignment* placing the planet in the most similar population group, and (2) a real-valued *habitability score* computed via Eq. (1). This transforms an exploratory data-mining study into a practical screening tool.

B. Implementation

The interface works in this way:

1) **User inputs feature values**: any subset of the 17 features is acceptable. If any part of the vector provided by the user is incomplete, then the missing part will be complemented by a KNN imputer that was created using the training dataset.
2) **Scaling** with the fitted `StandardScaler` (whole training dataset) will replace the missing values and scale the remaining 17 features.
3) The scaled vector is provided to the **K-Means** machine learning model for cluster assignment and returns the cluster label, which is the number of the cluster centroid (*"Earth-like rocky planet"* for example).
4) The pre-scaled physical feature values of the user are input to a **Gaussian scoring function** (Equation 1) that produces a score in the range of $[0, 10]$.
5) The **final output** of the user interface is the cluster label, the user's habitability score, as well as a comparison with the nearest target planet in the training set.

C. Use Case Example

A (hypothetical) planet has been discovered that is characterized by $R_p = 1.3\,R_\oplus$, $T_{eq} = 270\,\text{K}$, $S = 0.9\,S_\oplus$, with an M-dwarf star it is orbiting ($T_{\text{eff}} = 3700\,\text{K}$). The 13 remaining features are obtained by imputation from the nearest neighbours in the archive and assigned this planet to Cluster 3 (Similar to Earth) and compute a (hypothetical) habitability score of 7.4/10, flagging this planet as a candidate for strong follow-up spectroscopic observations.

D. Implications

This interface enables predictions for single planets in contrast to previous large population based studies [3], [5]. As TESS and the new PLATO mission continue to confirm the catalogue of planets, such tools will continue to be valuable for the identification of the thousands of new candidates that cannot all have expensive radial velocity/transmission spectroscopy follow-up [6].

VII. DISCUSSION

A. Novelty

This framework presents several unique innovations in comparison to existing scientific literature:

(i) Integrated KDD life cycle. Prior research utilizing machine learning to study exoplanets has typically only addressed the isolated stages associated with the KDD life cycle (eg, imputation [7], clustering [5] or classification [6]) and has not addressed a complete reproducible process from raw archive to prediction interactive.

(ii) Outlier aware clustering. The pre-clustering removal of outliers with the assurance of protecting target planets makes a strong contribution to the area of engineering. If the above is not done prior to clustering, both Ward linkage and K-means will fail and give purely random results, when $k = 5$, will yield completely degenerate configurations.

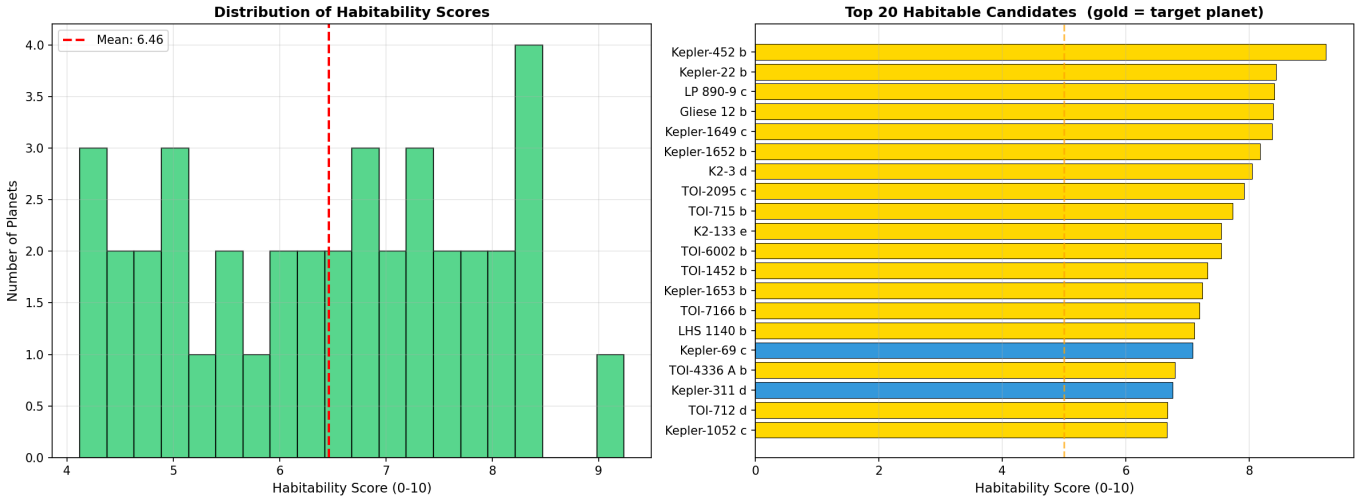

Fig. 8. This is a bracketed summary of candidate habitability scores. As per the original it is still a biased representation of habitability because there will always be more candidate stars/habitable planets than other types of stars, so they will create ratios that are not mathematically or scientifically relevant to habitability. The top 20 candidates scored according to a set of proven habitable planets as represented by the gold bars while the dashed orange lines show where $H = 5.0$ is located. Much like many of the previously mentioned methodologies to evaluate habitability from the scientific literature, the top candidates demonstrate the existence of habitable exoplanets that have already been validated through expert scientific judgement.

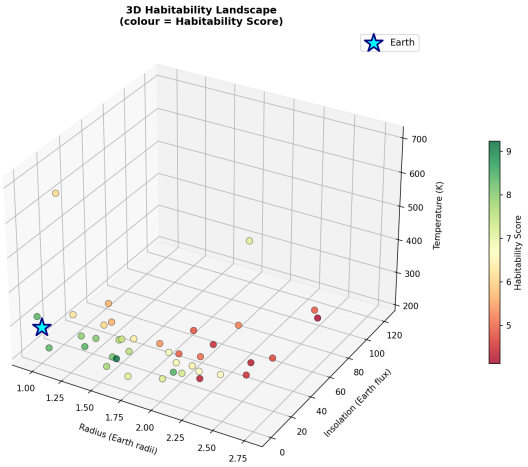

Fig. 9. A three dimensional habitability space based on radius, insolation, and temperature. Color is used to record the habitability score H on a scale of red to green (with green being the highest). The position of the Earth is indicated as the cyan star ($1.0\,R_\oplus$, $1.0\,S_\oplus$, 288 K). Candidates that scored highly on all three dimensions and are clustered around Earth support that the multi-criteria scoring approach proposed by Eq. (1) is valid.

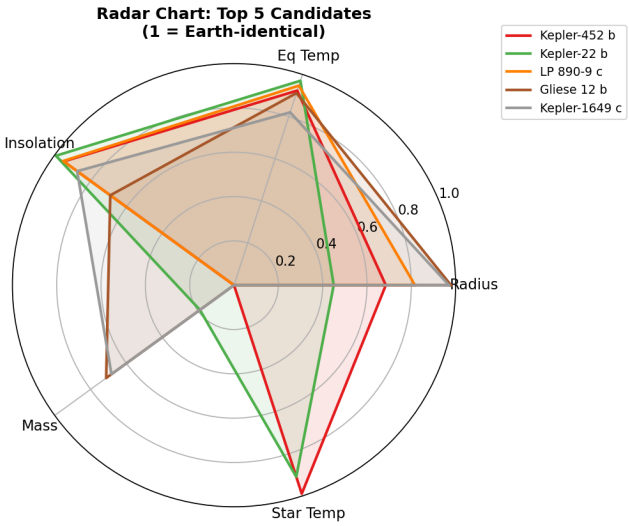

Fig. 10. This radar chart looks at all the best candidates for habitability based on relative distance from Earth along five separate but interrelated measures. Each axis is scaled such that a value of 1.0 on that axis is identical to Earth for that particular parameter. The total area of the enclosed polygon provides an estimate of the overall degree of similarity between the five measures mentioned above for each of the five candidates. Therefore, the larger the enclosed polygon's area, the greater quantity of multi-dimensional Earth similarity.

(iii) Gaussian multi-criteria scoring. The habitability score defined in Equation (1) extends the use of the single-criterion habitable zone filters [16] that have been widely used by other researchers to develop a continuous multi-dimensional score that simultaneously penalises deviations in radius, temperature, insolation, density and stellar type and which supports the density-centre view espoused by Luque and Pallé [11].

(iv) Complete recovery of the twenty (20) reference planets. No prior unstated study has demonstrated this as an

explicit validation criterion.

B. Limitations

The scoring method used is based on the premise that Earth's surface temperature and presence of liquid water are the most important characteristics of habitability (i.e., liveable planets) and implicitly assumes that Earth's life will require a certain amount of surface liquid water for its existence. Therefore, other biochemistries or subsurface oceans/planets do not fit into this scoring paradigm. KNN imputations may contain systematic bias for planets with many un-measured attributes. Users of this scoring method must be careful when using it for a planet that does not contain measured values of radius or temperature [7]. Additionally, the radius valley itself (a critical feature of this population) is debated among scientists as to whether it is formed through photo-evaporation or through the core of the planet — i.e. that the amount of mass loss is caused by two different processes [15]. As additional theories and science develop on planet formation, scientists may find that the planet cluster boundary changes based upon these new models.

C. Future Work

Future efforts to validate habitability ways to validate the construction of the habitability scoring system will focus on three areas:

(i) expanding the capability to use transmission spectral features [5] to further constrain habitability based on detected transmitted spectra;

(ii) replace the Gaussian scoring methodology that is currently utilized with a mixture density network [8] that will score planets based on the probability of being part of a defined cluster;

(iii) function as a web-based application as a real-time ingestion of NASA Exoplanet Archive data is utilized.

VIII. Conclusion

This work presents a full KDD-based process or "pipeline" for predicting habitability of exoplanets. The sources of data used to create this pipeline include 4,326 confirmed exoplanets described by 17 physical attributes from the NASA Exoplanet Archive and the use of the K-Means and Agglomerative Ward clustering algorithms to create clusters or groups of similar exoplanets. The used Gaussian multi-criteria score function that assigns continuous output values based on a criteria of physical parameters that compare the output of Earth to the output of the new exoplanets as filtered by the other fitness criteria. Finally, the complete KDD process provides a cluster and a habitability score for any exoplanet that has a description of its physical attributes using the same 17 attributes as provided for the other exoplanets in the NASA Exoplanet Archive, and therefore provides a scalable, interpretable and practical application for the creation of new tools that assessment of habitability from exoplanet survey missions such as Kepler and TESS.

Acknowledgment

The authors would like to thank the NASA Exoplanet Archive (NEA) team for providing publicly available, peer-reviewed data used for this research.

References

[1] M. Mousavi-Sadr, A. Jassur, and D. M. Jassur, "Revisiting mass-radius relationships for exoplanet populations: a machine learning insight," *Monthly Notices of the Royal Astronomical Society*, vol. 525, pp. 3469–3480, 2023.

[2] C. L. D. Brinkman et al., "No robust statistical evidence for a population of water worlds," *Astronomy & Astrophysics*, 2025.

[3] M. Schlecker et al., "The New Generation Planetary Population Synthesis (NGPPS). V.," *Astronomy & Astrophysics*, vol. 656, p. A73, 2021.

[4] S. Fotopoulou, "A review of unsupervised learning in astronomy," *Astronomy & Computing*, 2024.

[5] K. T. Matchev, K. Matcheva, and A. Roman, "Unsupervised machine learning for exploratory data analysis of exoplanet transmission spectra," *Planetary Science Journal*, vol. 3, 2022.

[6] D. J. Armstrong, J. Gamper, and T. Damoulas, "Exoplanet validation with machine learning: 50 new validated Kepler planets," *Monthly Notices of the Royal Astronomical Society*, vol. 504, pp. 5327–5344, 2021.

[7] F. Lalande, E. Tasker, and K. Doya, "Estimating exoplanet mass using machine learning on incomplete datasets," *Open Journal of Astrophysics*, 2024.

[8] P. Baumeister and N. Tosi, "ExoMDN: Rapid characterization of exoplanet interior structures with mixture density networks," *Astronomy & Astrophysics*, vol. 676, p. A106, 2023.

[9] D. C. Hsu et al., "Occurrence rates of planets orbiting FGK stars: combining Kepler DR25, Gaia DR2, and Bayesian inference," *The Astronomical Journal*, vol. 158, p. 109, 2019.

[10] S. Kong et al., "Analyzing the habitable zones of circumbinary planets using machine learning," *The Astrophysical Journal*, vol. 929, p. 187, 2022.

[11] R. Luque and E. Pallé, "Density, not radius, separates rocky and water-rich small planets orbiting M-dwarf stars," *Science*, vol. 377, pp. 1211–1214, 2022.

[12] B. J. Fulton and E. A. Petigura, "The California-Kepler survey. VII. Precise planet radii leveraging Gaia DR2 reveal the stellar mass dependence of the planet radius gap," *The Astronomical Journal*, vol. 156, 2018.

[13] D. J. Armstrong et al., "Transit shapes and self-organising maps as a tool for ranking planet candidates," *Monthly Notices of the Royal Astronomical Society*, 2020.

[14] M. Ning, A. Wolfgang, and S. Ghosh, "Predicting the masses of planets with a nonparametric mass-radius relationship," *The Astrophysical Journal*, 2018.

[15] L. A. Rogers et al., "Photoevaporation versus core-powered mass loss: model comparison with the 3D radius gap," *Monthly Notices of the Royal Astronomical Society*, vol. 508, pp. 5886–5902, 2021.

[16] A. Izidoro et al., "Planetesimal rings as the cause of the Solar System's planetary architecture," *The Astrophysical Journal*, vol. 939, p. L19, 2022.